VIVEKANAND EDUCATION SOCIETY'S INSTITUTE OF TECHNOLOGY

(An Autonomous Institute Affiliated to University of Mumbai
Department of Computer Engineering)

Department of Computer Engineering

Project Report on

INDREVA: India Real Estate Valuation and Risk Assessment Framework

In partial fulfillment of the Fourth Year (Semester–VII), Bachelor of Engineering (B.E.) Degree in Computer Engineering at the University of Mumbai

Academic Year 2025-26

Dr. Gresha Bhatia

Submitted by

Neelkanth Khithani, D17B / 23
Kushl Alve, D17B / 04
Jatin Navani, D17B / 34
Vedang Gambhire, D17B / 16

(2025-26)

VIVEKANAND EDUCATION SOCIETY'S INSTITUTE OF TECHNOLOGY

(An Autonomous Institute Affiliated to University of Mumbai
Department of Computer Engineering)

Department of Computer Engineering

CERTIFICATE of Approval

This is to certify that ***Neelkanth Khithani, Kushl Alve, Jatin Navani, Vedang Gambhire*** of Fourth Year Computer Engineering studying under the University of Mumbai has satisfactorily presented the project on "***INDREVA: India Real Estate Valuation and Risk Assessment Framework***" as a part of the coursework of PROJECT-I for Semester-VII under the guidance of ***Dr. Gresha Bhatia*** in the year 2024-2025.

_____

Date

Internal Examiner	External Examiner

Project Mentor	Head of the Department Dr. Mrs. Nupur Giri	Principal Dr. J. M. Nair

ACKNOWLEDGEMENT

We are thankful to our college Vivekanand Education Society's Institute of Technology for considering our project and extending help at all stages needed during our work of collecting information regarding the project.

It gives us immense pleasure to express our deep and sincere gratitude to Professor **Dr. (Mrs.) Gresha Bhatia** (Project Guide) for her kind help and valuable advice during the development of project synopsis and for her guidance and suggestions.

We are deeply indebted to the Head of the Computer Department **Dr. (Mrs.) Nupur Giri** and our Principal **Dr. (Mrs.) J. M. Nair ,** for giving us this valuable opportunity to do this project.

We express our hearty thanks to them for their assistance without which it would have been difficult in finishing this project synopsis and project review successfully.

We convey our deep sense of gratitude to all teaching and non-teaching staff for their constant encouragement, support and selfless help throughout the project work. It is a great pleasure to acknowledge the help and suggestion, which we received from the Department of Computer Engineering.

We wish to express our profound thanks to all those who helped us in gathering information about the project. Our families too have provided moral support and encouragement several times.

Computer Engineering Department

COURSE OUTCOMES FOR B.E PROJECT

Learners will be to:-

Course Outcome	Description of the Course Outcome
CO 1	Do literature survey/industrial visit and identify the problem of the selected project topic.
CO2	Apply basic engineering fundamental in the domain of practical applications FORproblem identification, formulation and solution
CO 3	Attempt & Design a problem solution in a right approach to complex problems
CO 4	Cultivate the habit of working in a team
CO 5	Correlate the theoretical and experimental/simulations results and draw the proper inferences
CO 6	Demonstrate the knowledge, skills and attitudes of a professional engineer & Prepare report as per the standard guidelines.

Abstract

The Indian real estate sector is significantly challenged by market fragmentation, information asymmetry, and non-standardized valuation practices, resulting in inaccurate pricing, heightened financial risks, and a lack of transparency for all stakeholders. The INDREVA (India Real Estate Valuation and Risk Assessment Framework) project directly addresses these systemic shortcomings by proposing an integrated, AI-powered platform designed to transform the market into a data-driven ecosystem. The core objective is to develop a unified framework that aggregates property data from multiple online portals and leverages advanced Machine Learning (ML) and Artificial Intelligence (AI) to deliver two critical, reliable outputs: Standardized Property Valuations to estimate the accurate Fair Market Value, and a Comprehensive Risk Assessment that generates a multi-dimensional score evaluating factors like Market Volatility, Developer Credibility, and Legal Compliance. By providing these transparent, justified, and actionable insights, INDREVA aims to empower buyers, investors, and lenders, mitigate financial risk, and foster a more trustworthy and efficient real estate market in India.

INDEX

Abstract **5**
Chapter 1 Introduction **7**
1.1 Introduction to the Project 7
1.2 Motivation 8
1.3 Problem Definition 9
1.4 Relevance of the Project 10
1.5 Methodology 11
Chapter 2 Literature Survey **13**
2.1 Research Papers 13
Chapter 3 Requirement of Proposed System **16**
3.1 Functional Requirements 16
3.2 Non-Functional Requirements 16
3.3 Constraints 17
3.4 Hardware & Software Requirements 18
3.5 Techniques utilized till date for the proposed system 18
3.6 Tools utilized till date for the proposed system 20
3.7 Project Proposal 21
Chapter 4 Proposed Design **22**
4.1 Block Diagram Representation of the Proposed System 22
4.2 Modular diagram Representation of the Proposed System 23
4.3 Project Scheduling & Tracking using Gantt Chart 25
Chapter 5 Proposed Results and Discussion **26**
Chapter 6 Plan Of Action For the Next Semester **30**
6.1 Work done till date 30
6.2 Plan of action for project II 31
Chapter 7 Conclusion **33**
References **34**
Appendix **35**
A. List of Figures 35
B. List of Tables 35

Chapter 1 Introduction

1.1 Introduction to the Project

The Indian real estate sector is a critical pillar of the nation's economy, yet it remains plagued by significant challenges such as market fragmentation, information asymmetry, and a lack of standardized valuation practices. These issues lead to inaccurate property pricing, heightened financial risks, and a pervasive sense of mistrust among buyers, investors, and financial institutions. The absence of a centralized, data-driven framework makes it difficult for stakeholders to make informed, evidence-based decisions, thereby hampering the sector's potential for transparent and sustainable growth.

INDREVA (India Real Estate Valuation and Risk Assessment Framework) is conceived as a direct response to these systemic shortcomings. It is an integrated platform designed to bring clarity, transparency, and intelligence to the property market. The core objective of INDREVA is to develop a unified ecosystem that consolidates disparate property data from multiple online portals and enriches it with external data sources.

By leveraging advanced Big Data analytics, Machine Learning (ML), and Artificial Intelligence (AI), the platform delivers two key outputs:

I. Standardized Property Valuations: Providing accurate, data-backed fair market value estimates for properties, moving beyond subjective and inconsistent valuation methods.

II. Comprehensive Risk Assessment: Generating multi-dimensional risk scores that evaluate critical factors such as Market Volatility, Developer Credibility, Legal Compliance, and Environmental Hazards.

The system not only provides valuations and risk scores but also offers clear, interpretable reasons behind each conclusion, empowering users with actionable insights. Ultimately, INDREVA aims to democratize access to critical real estate information, mitigate financial risks, and foster a more efficient, trustworthy, and intelligent property market ecosystem for all participants.

1.2 Motivation

The motivation for developing the INDREVA platform stems from the critical and systemic failures observed within the Indian real estate market, which collectively create an environment of uncertainty, risk, and inefficiency for all stakeholders.

These challenges are not merely inconveniences but represent significant barriers to market efficiency and consumer protection.

I. The Affordability and Transparency Crisis

   The stark reality, especially in metropolitan markets like Mumbai, where even top earners require decades of savings to afford a home, highlights a severe market distortion. This crisis is exacerbated by practices such as the use of black money and the bifurcation of the market towards luxury segments, leaving affordable housing supply dwindling. This creates an urgent need for a tool that can provide transparent, justified pricing to empower buyers.

II. Systemic Fragmentation and Data Silos

   The current property search experience is fractured across multiple listing websites (e.g., Magicbricks, 99acres), forcing users to juggle platforms without getting a unified, comparable view. This fragmentation leads to prolonged search times, inconsistent data, and an inability to perform effective price comparisons, indicating a clear need for a consolidated data ecosystem.

III. The Critical Gap in Risk Assessment

   While financial institutions and buyers are exposed to significant risks—including project delays, developer insolvency, and legal disputes—there is a notable absence of widespread, data-driven tools to assess these risks proactively. The lack of a standardized framework to evaluate developer credibility or project-specific risks leaves investors and lenders vulnerable to unforeseen liabilities.

In summary, the motivation for INDREVA is the compelling necessity to address these interconnected problems through technology. By integrating dispersed data, applying advanced analytics, and prioritizing explainable insights, INDREVA seeks to transform the real estate landscape from an opaque, high-risk market into a transparent, intelligent, and trustworthy ecosystem.

1.3 Problem Definition

India's real estate market, despite its significant economic contribution and rapid growth, operates without a standardized, transparent, and dynamic valuation and risk assessment framework. The current ecosystem is characterized by several critical deficiencies including Market Fragmentation and Information Asymmetry: Property data is siloed across numerous online platforms (e.g., Magicbricks, 99acres), preventing stakeholders from obtaining a consolidated and comparable view of the market. This fragmentation leads to inefficient searches, inconsistent data, and an inability to perform accurate price benchmarking, Opaque and Unjustified Pricing: The rationale behind property prices is often unclear or subjective, based on inconsistent guideline values rather than comprehensive, data-driven analysis, Inadequate Risk Assessment: There is a severe lack of accessible tools to proactively evaluate multi-faceted risks associated with a property. Key risk dimensions—such as developer credibility (history of delays, litigation), legal compliance (RERA status, title disputes)—are not systematically analyzed or presented to stakeholders, leaving financial institutions and buyers exposed to unforeseen financial and legal liabilities. Consequently, buyers, investors, and lenders struggle to make informed decisions, which perpetuates market inefficiencies, heightens financial risk, and undermines the overall health and sustainability of the real estate sector. This project aims to develop the INDREVA framework to directly address these gaps by delivering standardized property valuations, comprehensive risk assessments, and actionable market insights through a unified, AI-powered platform.

1.4 Relevance of the Project

The INDREVA project is profoundly relevant as it addresses critical, unmet needs in one of India's most vital economic sectors using cutting-edge technology. Its relevance extends across multiple dimensions:

1. Market Transformation: The project is poised to act as a catalyst for transforming the Indian real estate market from an opaque, tradition-bound sector into a modern, transparent, and data-driven ecosystem. By providing standardized valuations and risk scores, it introduces a much-needed layer of objectivity and intelligence, directly combating the information asymmetry that currently plagues the market.
2. Empowering Stakeholders: INDREVA is directly relevant to the core needs of all market participants:
    a. For Buyers & Investors: It democratizes access to critical information, empowering them to negotiate confidently, avoid fraudulent deals, and make one of the most significant financial decisions of their lives based on data rather than hearsay.
    b. For Financial Institutions & Lenders: The platform provides a systematic risk assessment tool, enabling better credit risk analysis, more accurate loan-to-value calculations, and reduced exposure to non-performing assets (NPAs) stemming from problematic real estate projects.
    c. For Regulators: By aggregating and analyzing market-wide data, INDREVA can offer valuable macro-insights that support policy-making, monitor compliance with regulations like RERA, and identify systemic risks in the urban development landscape.

In essence, the INDREVA project is not just an academic exercise; it is a timely and necessary intervention that leverages technology to solve pressing, real-world problems, making it highly relevant to the current and future state of the Indian real estate industry.

1.5 Methodology

The INDREVA framework is developed using a structured, multi-stage methodology that integrates data engineering, machine learning, and user-centric design. The overall approach is systematic and iterative, ensuring the platform is robust, scalable, and delivers actionable insights. The methodology is broken down into four core phases:

Phase I. Data Collection & Aggregation

This phase establishes the foundational data layer for all subsequent analysis.

1. Scraping Pipeline: Automated web scrapers are developed to systematically collect raw, unstructured property data from major online real estate portals (e.g., Magicbricks, 99acres). This data includes key attributes such as property type (flat, villa), size, location, listed price, builder details, and amenities.
2. Centralized Storage: All collected and enriched data is stored in a centralized database, chosen for its flexibility in handling diverse and unstructured data, creating a single source of truth for the platform.

Phase II. AI-Powered Risk & Valuation Modeling

In this phase, the prepared data is fed into proprietary machine learning models to generate core insights.

1. Valuation Model: An advanced ML model (e.g., Gradient Boosting, Random Forest) is trained on the enriched dataset to predict the fair market value of a property. The model learns the complex, non-linear relationships between property features (location, size, amenities) and their market prices.
2. Risk Evaluation Model: A separate, multi-faceted ML model is trained to compute a composite risk score for each property. This model evaluates risk across four key dimensions:
3. Market Risk: Volatility and demand-supply gaps in the locality.
4. Developer Risk: Based on the developer's history of project delays, defaults, and legal complaints.
5. Legal Risk: Assessing RERA compliance and pending litigation.

Phase III. User Query Processing & Ranking

This phase handles the interaction between the user and the system.

1. Query Submission: A user submits a search query through a React.js-based web application (e.g., "2BHK under ₹1.5 Cr in Bandra").
2. Filtering & Analysis: The system first filters the centralized database for properties matching the user's criteria. Each shortlisted property is then processed through the pre-trained Valuation and Risk models to attach a predicted price and a risk score.
3. Intelligent Ranking: The results are not just filtered but intelligently ranked based on a combination of factors, prioritizing properties that best match the user's preferences and exhibit the lowest overall risk.

Phase IV. Results & Reporting

The final phase focuses on delivering insights in a transparent and trustworthy manner.

1. Interactive Dashboard: Users are presented with a dashboard showing shortlisted properties, their predicted valuations, risk scores, and key comparisons.
2. Valuation Justification: Highlighting which factors (e.g., premium location, large balcony) most influenced the price.
3. Risk Factor Breakdown: Providing a clear, itemized explanation for each component of the risk score (e.g., "High Developer Risk due to two previously delayed projects").
4. Historical Context: Displaying verifiable data on RERA checks and the developer's track record.

This end-to-end methodology ensures that INDREVA moves from raw, fragmented data to delivering clear, justified, and actionable intelligence, thereby fulfilling its core objective of bringing transparency and data-driven decision-making to real estate.

Chapter 2 Literature Survey

2.1 Research Papers

Paper No. 1	Using Machine Learning Models and Actual Transaction Data for Predicting Real Estate Prices		
Authors:	Ping-Feng Pai and Wen-Chang Wang	**Published On:**	23 August 2020
Summary:	Accurate real estate price prediction is essential for policy formulation and informed decision-making. This study uses actual transaction data, treating property attributes as independent variables and prices as dependent variables, to train four machine learning models—LSSVR, CART, GRNN, and BPNN—with parameter tuning via genetic algorithms. Results show that Least Squares Support Vector Regression (LSSVR) achieves the highest accuracy and lowest error rate, outperforming other models and prior studies.		
Inference Drawn:	Machine learning offers a reliable framework for real estate price forecasting, with LSSVR emerging as the most effective model due to its superior accuracy and stability in predicting property prices.		

Paper No. 2	Graph Convolutional Network-Based Model for Megacity Real Estate Valuation		
Authors:	Zongyan Yang, Zhonghua Hong, Ruyan Zhou, and Hong Ai	**Published On:**	27 September 2022
Summary:	Accurately estimating real estate prices is challenging due to high property values, complex influencing factors, and limited data generalizability. This study proposes A-SRGCNN, an enhanced spatial regression model based on graph convolutional neural networks (GCNN) with an external attention mechanism that captures relationships among property data. Using datasets from Shanghai, Melbourne, and San Diego, A-SRGCNN outperformed benchmark models in price prediction accuracy.		

Inference Drawn:	The inclusion of an attention mechanism significantly improves spatial regression performance, revealing strong spatial and temporal price linkages. Thus, A-SRGCNN proves to be a robust and generalizable model for precise real estate price estimation across different markets.

Paper No. 3	The Impacts of Open Data and eXplainable AI on Real Estate Price Predictions in Smart Cities		
Authors:	Fátima Trindade Neves, Manuela Aparicio, and Miguel de Castro Neto	**Published On:**	6 March 2024
Summary:	In the era of smart cities, accurate real estate price prediction is vital for urban planning and economic development. This study focuses on Lisbon's housing market (2018–2021), integrating diverse open data sources into an XGBoost model optimized with Optuna to enhance predictive performance. Incorporating open data reduced the Mean Absolute Error (MAE) by 8.24%, demonstrating its strong impact on model accuracy. To ensure transparency, SHAP (SHapley Additive exPlanations) was applied to interpret feature importance and foster accountability in AI predictions.		
Inference Drawn:	The study reveals that combining open data with eXplainable AI (XAI) significantly improves both the accuracy and transparency of real estate price prediction models, making them more trustworthy and effective tools for smart city planning and policy formulation.		

Paper No. 4	Machine Learning Algorithms and Explainable Artificial Intelligence for Property Valuation		
Authors:	Gabriella Maselli and Antonio Nesticò	**Published On:**	30 June 2025
Summary & Inference:	Accurately estimating urban property values remains a challenge for appraisers, investors, and planners. This study applies k-Nearest Neighbors (kNN), Random Forest (RF), and Artificial Neural Network (ANN) models to the housing market in		

Salerno, Italy, addressing overfitting and interpretability issues common in machine learning-based valuation. Using SHAP and Permutation Feature Importance (PFI), the analysis identifies area and proximity to train stations as key price determinants. Among the models, Random Forest achieved the best balance between predictive accuracy and transparency.

Inference The study demonstrates that integrating explainability techniques with ML models enhances both reliability and interpretability, enabling more transparent and data-driven real estate valuation while mitigating overfitting risks.

Chapter 3 Requirement of Proposed System

3.1 Functional Requirements

Non-functional requirements (NFRs) specify criteria that can be used to judge the operation of a system, rather than specific behaviors. They define the system's quality attributes, such as performance, security, and usability, which are critical for the successful deployment and adoption of the INDREVA platform.

FR-I. Data Aggregation: Automatically scrape, collect, and consolidate property data from multiple online portals into a single, standardized format.

FR-II. Search and Filtering: Allow users to perform detailed, filtered searches based on location, size, price, and property type.

FR-III. Valuation Generation: Process properties through the AI-Powered Valuation Model to predict and display the Fair Market Value.

FR-IV. Risk Assessment: Generate a Composite Risk Score using a multi-faceted model across dimensions like Market, Developer, and Legal risk.

FR-V. Valuation Justification: Provide clear, interpretable reasons for the predicted valuation.

FR-VI. Intelligent Ranking: Rank search results based on a combination of user preferences, predicted value, and the associated risk score.

FR-VII. Dashboard Presentation: Display all results, scores, and justifications via a user-friendly, interactive web application dashboard.

3.2 Non-Functional Requirements

Non-functional requirements (NFRs) specify criteria used to judge the operation of a system, defining quality attributes like performance, security, and usability. These are critical for the successful deployment and adoption of the INDREVA platform.

Performance:

NFR-PI. Response Time: Display search results and scores within a maximum of 5 seconds.

NFR-PII. Scalability: Handle a data volume increase of at least 20% year-over-year.

Security & Reliability:

NFR-SI. Data Privacy: Encrypt all sensitive data both in transit (HTTPS/TLS) and at rest.

NFR-SII. Access Control: Implement Role-Based Access Control (RBAC) for sensitive features.

NFR-SIII. Availability: Maintain an operational uptime of at least 99.5% during peak hours.

NFR-SIV. Data Freshness: Execute the automated scraping pipeline at least once every 24 hours.

Usability & Maintainability:

NFR-UI. Interface Simplicity: Allow users to generate a valuation report within three clicks.

NFR-UII. Explainability (XAI): Clearly present justifications for scores using non-technical language.

NFR-UIII. Modularity: Ensure a modular architecture for independent updates and maintenance.

3.3 Constraints

Constraints are limitations or restrictions that must be considered during the development of the INDREVA platform, originating from technical, legal, or economic factors.

CON-TI. Data Heterogeneity: Input data is highly fragmented and inconsistent, requiring extensive cleaning and standardization.

CON-TII. Scraping Limits: Data collection is restricted by the Terms of Service and rate limits imposed by major real estate portals.

CON-TIII. Ground Truth Data Access: Lack of publicly available, centralized actual transaction prices (ground truth) constrains model accuracy.

CON-TIV. RERA Data Reliability: Data on developer credibility and compliance is constrained by the real-time updating status of state-level RERA portals.

3.4 Hardware & Software Requirements

Hardware Requirements:

- Processor: Intel i5
- RAM: 8 GB
- Storage: 256 GB SSD
- GPU: NVIDIA CUDA-enabled GPU

Software Requirements:

- Frontend: React.js, Tailwind CSS
- Backend: Flask / Node.js
- Database: PostgreSQL
- AI/ML Frameworks: TensorFlow, PyTorch, Mistral-7B
- Supporting Tools: FAISS, Sentence Transformers
- Cloud / Hosting: AWS, Google Cloud, or Local Server

3.5 Techniques utilized till date for the proposed system

The techniques applied so far in the development of the INDREVA framework primarily focus on data engineering, backend integration, and system architecture design. These steps form the foundation for the upcoming valuation and risk assessment models.

1. Web Scraping and Data Extraction
    - Implemented automated scraping scripts using Python (BeautifulSoup and Selenium) to collect real estate listings from multiple sources such as *MagicBricks*, *99acres*, and *NoBroker*.
    - Developed logic for handling pagination, dynamic loading, and anti-bot mechanisms.
    - Extracted key parameters such as *price, carpet area, location, BHK, builder name, and amenities*.
2. RERA Data Scraping and Integration
    - Implemented a separate scraping pipeline for MahaRERA (Maharashtra Real Estate Regulatory Authority) and other state-level RERA portals.

- Extracted key regulatory information such as *project registration number, developer name, registration validity, complaint records, and completion status*.
- Linked each scraped property or developer with their corresponding RERA data through string-matching and fuzzy logic to validate project authenticity.
- Created an intermediate dataset combining market listings with RERA compliance details, forming the basis for future legal-risk scoring and the RERA-aware chatbot module.
- Incorporated timeout handling, request throttling, and retry logic to adhere to portal rate limits and ensure stability of the scraping process.

3. Data Cleaning and Standardization
    - Standardized inconsistent property attributes like *price per sqft, locality names, and area units* across different portals.
    - Removed duplicate entries and invalid records through data validation scripts.
    - Used Python's Pandas library to normalize fields into a consistent schema suitable for further analytics.
4. Database Schema Design and Integration
    - Designed a structured schema for storing property data, builder information, and extracted metadata.
    - Implemented a centralized database (PostgreSQL) to act as the unified source for all scraped data.
    - Ensured modular integration for future inclusion of ML-based valuation outputs.
5. API Development and Backend Logic
    - Developed Flask-based REST APIs to handle user queries such as property search and data retrieval.
    - Integrated backend endpoints for property listing, filtering by location, and price range.
    - Ensured the APIs are scalable and ready for ML model integration in the next phase.
6. Preliminary UI Design and Testing
    - Designed a React.js-based interface prototype to visualize property listings and upcoming valuation dashboards.

- Defined the interaction flow between user search, data retrieval, and analytics results.
- Tested the interface for responsiveness and data accuracy using dummy datasets.

7. Documentation and Architecture Planning
    - Created detailed architectural diagrams outlining modules for Data Aggregation, Risk Assessment, and Valuation.
    - Defined the data flow and integration points for AI and chatbot modules to be developed in Project II.
    - Documented scraping logic, schema design, and workflow for scalability and reproducibility.

3.6 Tools utilized till date for the proposed system

Category	Tool / Technology	Purpose / Usage in Project
Programming Language	Python 3.10+	Core language for data scraping, preprocessing, and backend development.
Web Scraping Libraries	BeautifulSoup4, Selenium	Automated extraction of real-estate listings and RERA data from dynamic web pages.
Data Handling & Analysis	Pandas, NumPy, Regex	Cleaning, transforming, and standardizing unstructured data from multiple portals into consistent tabular formats.
Database	PostgreSQL (Neon)	Centralized repository for storing property listings, developer details, and compliance records.
API Development Framework	Flask (Python)	Builds REST APIs for search, filtering, and communication between the backend and frontend.
Frontend Framework	React.js	Prototype web interface for displaying property information and analytics dashboard.
Version Control	Git, GitHub	Managing project code versions and collaborative development.
Data Storage & File Handling	CSV, JSON	Intermediate formats for storing raw scraped data and cleaned outputs.
Development Environment	VS Code, Jupyter Notebook	Coding, testing, and running data extraction and cleaning pipelines.

Table 1. Tools utilized for the proposed system

3.7 Project Proposal

This project proposes the development and deployment of INDREVA (India Real Estate Valuation and Risk Assessment Framework), an integrated, AI-powered platform designed to resolve the systemic issues of market fragmentation, information asymmetry, and opaque pricing in the Indian real estate sector.

Core Objectives

1. The primary goal is to transform the market into a transparent, data-driven ecosystem by delivering two critical outputs for every property:
2. Standardized Property Valuations: Provide accurate, data-backed Fair Market Value estimates using advanced Machine Learning models, moving beyond subjective appraisal methods.
3. Comprehensive Risk Assessment: Generate a multi-dimensional Composite Risk Score that evaluates factors across Market Volatility, Developer Credibility, and Legal Compliance.

Chapter 4 Proposed Design

4.1 Block Diagram Representation of the Proposed System

The block diagram provides a holistic view of how data flows through the INDREVA ecosystem.

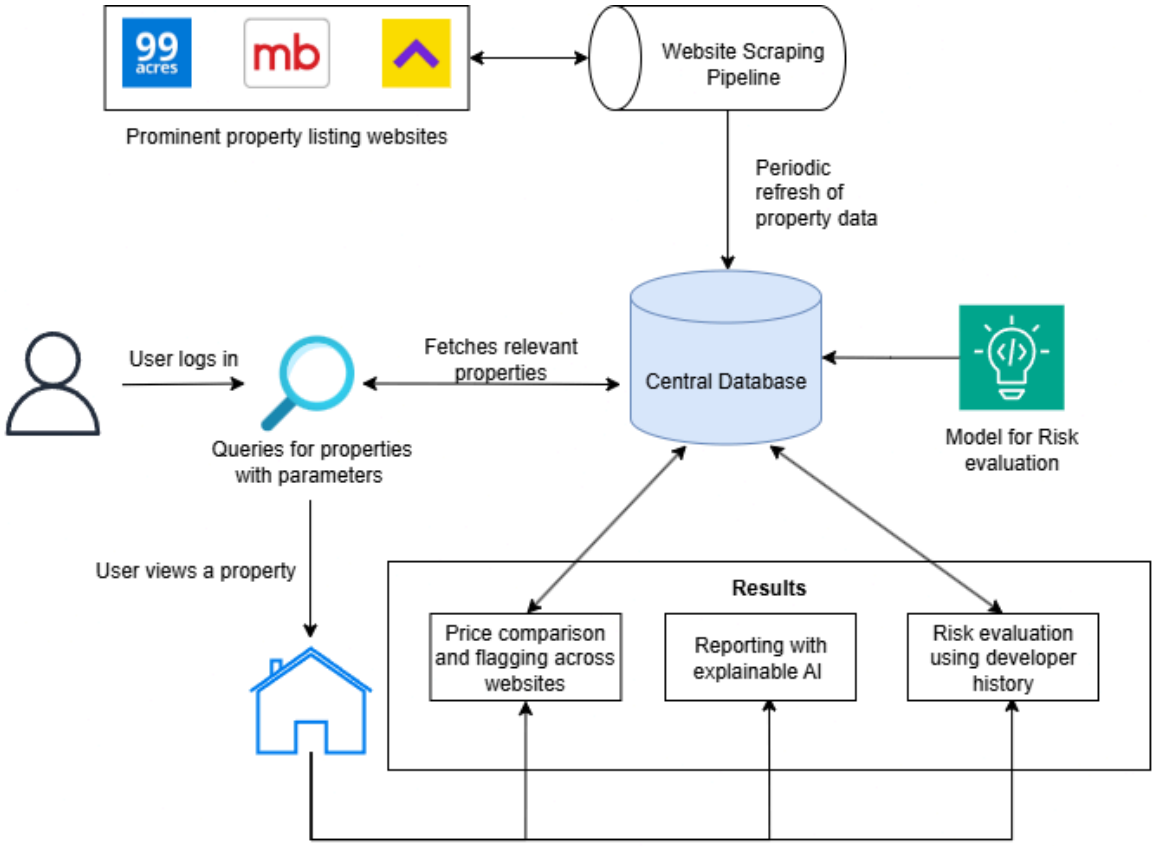

Figure 1. System Block Diagram of the Proposed System

I. Website Scraping Pipeline: Periodically extracts property listings from major portals such as 99acres, MagicBricks, and NoBroker. The pipeline standardizes raw HTML data into structured records.

II. Central Database: Acts as the single source of truth for all property, developer, and market information. It stores unified data from multiple sources and supports efficient querying.

III. Model for Risk Evaluation: Machine Learning models compute price predictions and multi-dimensional risk scores (market, developer, legal, socio-environmental).

IV. Results Module: Generates outputs including:

A. *Price Comparison & Flagging* across websites, highlighting price anomalies.

B. *Explainable AI Reports* that justify valuation and risk assessments.

C. *Developer Risk Evaluation* using historical performance and compliance data.

V. User Interface: Allows users to log in, search properties, and view interactive results pulled from the central database.

4.2 Modular diagram Representation of the Proposed System

The modular diagram breaks the architecture into functional units to emphasize separation of concerns and scalability.

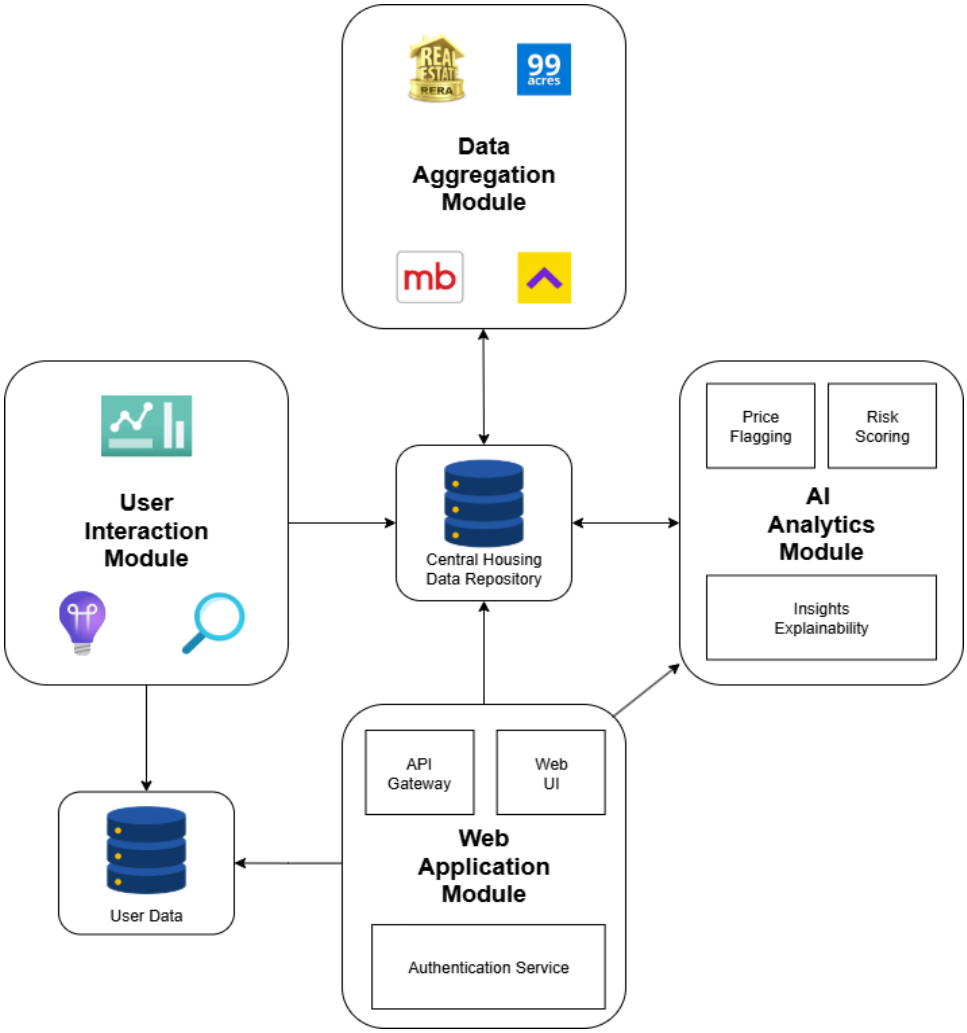

Figure 2. Modular Architecture of the Proposed System

A. Data Aggregation Module

Functions: Aggregates property data from multiple listing portals; Cleans, normalizes, and stores it in the central repository; Ensures periodic updates for freshness and reliability.

B. AI Analytics Module

Functions: Houses ML models for *Price Flagging* and *Risk Scoring*; Provides APIs that serve processed insights to other modules.

C. Web Application Module

Functions: Implements authentication and session management; Offers an API Gateway and Web UI for user interaction; Connects user queries with analytics results.

D. User Interaction Module

Functions: Handles user input such as location, budget, and BHK type; Visualizes insights comparisons, charts, and risk summaries; Collects feedback for continuous model improvement.

E. Central Housing Data Repository

Functions: The backbone database storing integrated property data, analytics results, and user activity logs; Ensures secure, consistent access across modules.

4.3 Project Scheduling & Tracking using Gantt Chart

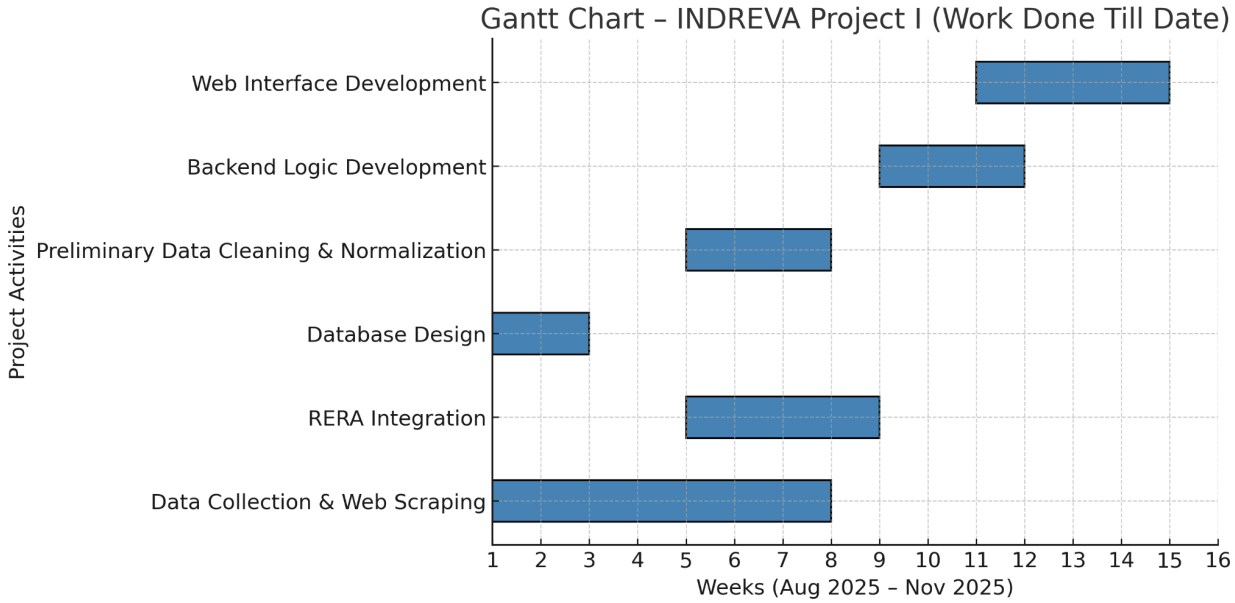

Figure 3. Gantt Chart for Project Scheduling

The chart maps Project Activities against a timeline measured in Weeks (Aug 2025 - Nov 2025), spanning from Week 1 to Week 16. The activities tracked include Web Interface Development, Backend Logic Development, Preliminary Data Cleaning & Normalization, Database Design, RERA Integration, and Data Collection & Web Scraping. The bars indicate the duration and current completion status of each task. Notably, Data Collection & Web Scraping is the longest activity, spanning from Week 1 to Week 8. Database Design was an early task completed between Week 2 and Week 3. More recent or ongoing activities include Preliminary Data Cleaning & Normalization (Week 5 to Week 8), RERA Integration (Week 5 to Week 9), and the subsequent Backend Logic Development (Week 9 to Week 12) and Web Interface Development (Week 11 to Week 15).

Chapter 5 Proposed Results and Discussion

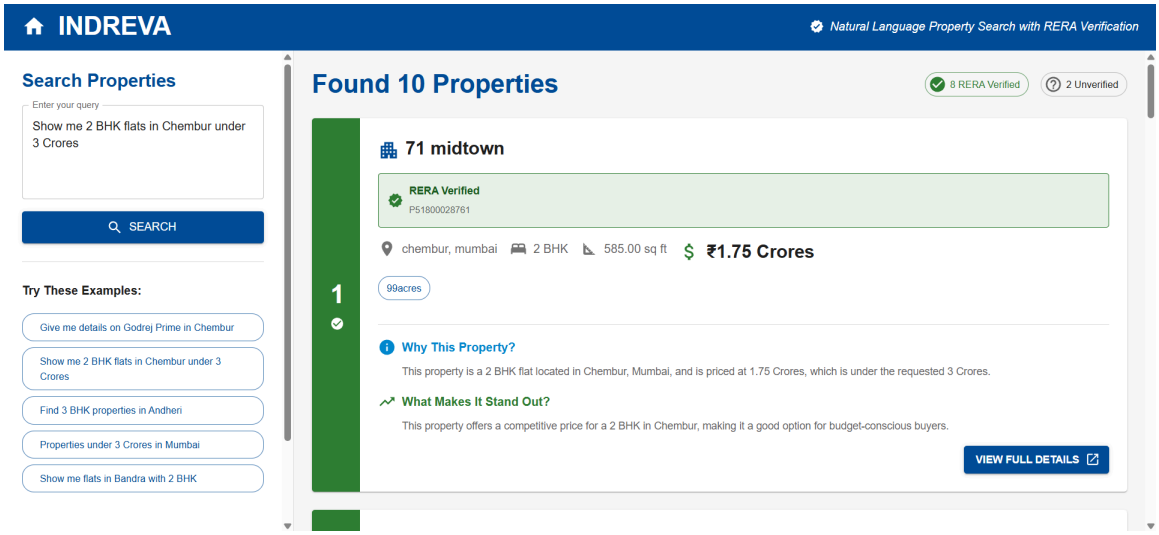

Figure 4. RERA verified property

This image displays the search results interface of the INDREVA property portal. The search query entered by the user is "Show me 2 BHK flats in Chembur under 3 Crores". The result shown is for "71 midtown," which is prominently marked as RERA Verified, along with its registration number. The property is a 2 BHK flat in Chembur, Mumbai, priced at ₹1.75 Crores (under the requested limit), and includes a brief analysis highlighting why it is a good option for budget-conscious buyers. The top of the results section indicates that 8 RERA Verified and 2 Unverified properties were found.

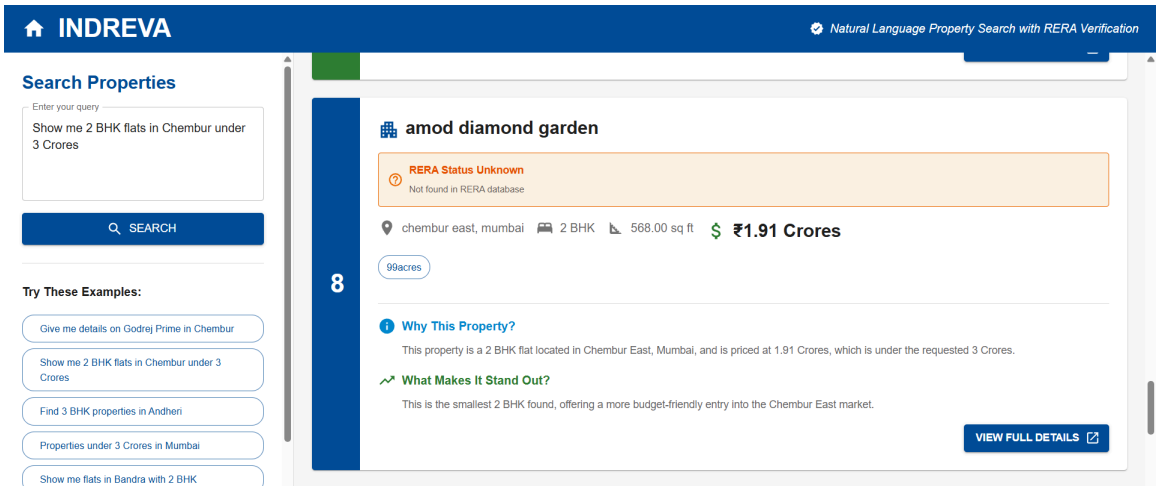

Figure 5. Property with RERA status unknown

This image shows a search result from the INDREVA portal for the query "Show me 2 BHK flats in Chembur under 3 Crores". The specific property shown, "amod diamond garden," is highlighted with an orange banner stating "RERA Status Unknown" and "Not found in RERA database." This illustrates a key feature of the system: even if a property is under the price limit (listed at ₹1.91 Crores) and fits the criteria, the system provides a clear status update on its RERA verification, alerting the user to the unverified nature of the listing.

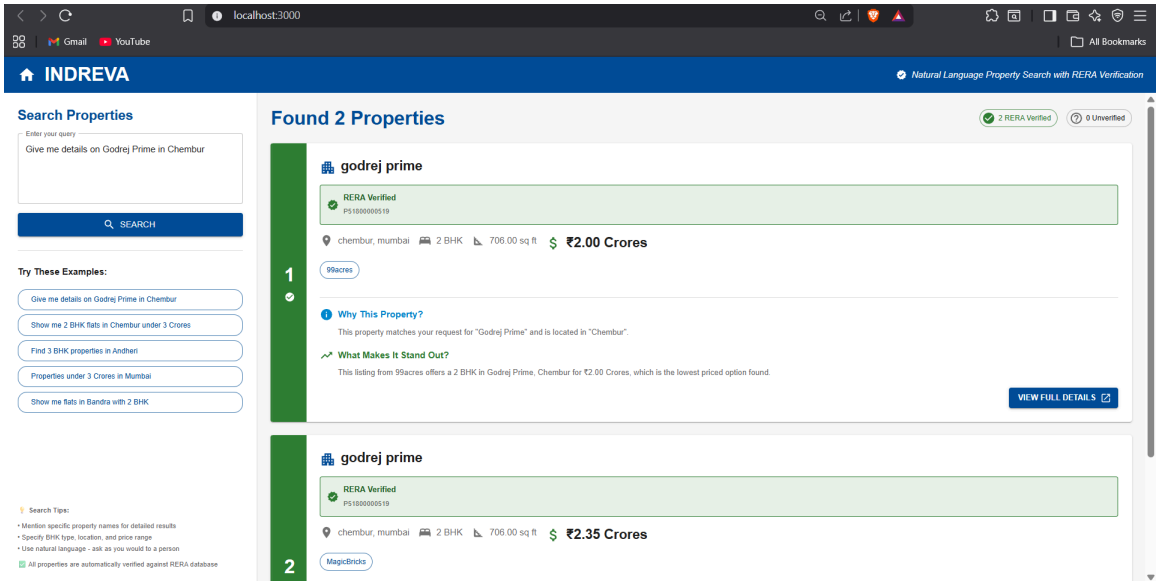

Figure 6. Instance of a property listed on two different websites with significant difference in price

This image shows the INDREVA search results for the query "Give me details on Godrej Prime in Chembur". The system found two listings for the "godrej prime" property, both marked as RERA Verified. The key finding is the significant price difference between the two listings: the first property, source-linked to 99acres, is listed at ₹2.00 Crores, while the second listing, source-linked to MagicBricks, is priced at ₹2.35 Crores. The system flags the ₹2.00 Crores listing as the lowest priced option found.

```
✅ RERA verification complete!
INFO:     127.0.0.1:53255 - "POST /query HTTP/1.1" 200 OK
INFO:     127.0.0.1:49945 - "OPTIONS /query HTTP/1.1" 200 OK
📥 Received query: Give me details on Godrej Prime in Chembur


> Entering new SQL Agent Executor chain...

Invoking: `sql_db_list_tables` with `{}`
responded:


master_properties, property_listings
Invoking: `sql_db_schema` with `{'table_names': 'master_properties, property_listings'}`



CREATE TABLE master_properties (
        property_id BIGSERIAL NOT NULL,
        canonical_name VARCHAR(255) NOT NULL,
        location VARCHAR(255) NOT NULL,
        bhk_type VARCHAR(50) NOT NULL,
        standard_area NUMERIC(10, 2)
```

```
Invoking: `sql_db_query` with `{'query': "SELECT DISTINCT ON (mp.canonical_name, pl.source_website
) mp.canonical_name, mp.location, mp.bhk_type, mp.standard_area, pl.price, pl.url, pl.source_websi
te FROM master_properties mp JOIN property_listings pl ON mp.property_id = pl.property_id WHERE mp
.canonical_name ILIKE '%godrej prime%' AND mp.location ILIKE '%chembur%' ORDER BY mp.canonical_nam
e, pl.source_website, pl.price ASC LIMIT 10;"}`


[('godrej prime', 'chembur, mumbai', '2 bhk', Decimal('706.00'), Decimal('2.00'), 'https://www.99a
cres.com/2-bhk-bedroom-apartment-flat-for-sale-in-godrej-prime-chembur-central-mumbai-706-sq-ft-sp
id-T85296958', '99acres'), ('godrej prime', 'chembur, mumbai', '2 bhk', Decimal('706.00'), Decimal
('2.35'), 'https://www.magicbricks.com/propertyDetails/2-BHK-1000-Sq-ft-Multistorey-Apartment-FOR-
Sale-Chembur-in-Mumbai&id=4d423534393835333231', 'MagicBricks')]---PROPERTY_START---
Name: godrej prime
Location: chembur, mumbai
BHK: 2 bhk
Area: 706.00 sq ft
Price: ₹2.00 Crores
Source: 99acres
URL: https://www.99acres.com/2-bhk-bedroom-apartment-flat-for-sale-in-godrej-prime-chembur-central
-mumbai-706-sq-ft-spid-T85296958
REASON: This property matches your request for "Godrej Prime" and is located in "Chembur".
INSIGHT: This listing from 99acres offers a 2 BHK in Godrej Prime, Chembur for ₹2.00 Crores, which
 is the lowest priced option found.
```

```
---PROPERTY_END---
---PROPERTY_START---
Name: godrej prime
Location: chembur, mumbai
BHK: 2 bhk
Area: 706.00 sq ft
Price: ₹2.35 Crores
Source: MagicBricks
URL: https://www.magicbricks.com/propertyDetails/2-BHK-1000-Sq-ft-Multistorey-Apartment-FOR-Sale-C
hembur-in-Mumbai&id=4d423534393835333231
REASON: This property matches your request for "Godrej Prime" and is located in "Chembur".
INSIGHT: This listing from MagicBricks offers a 2 BHK in Godrej Prime, Chembur for ₹2.35 Crores. I
t's a good alternative if the 99acres listing isn't suitable.
---PROPERTY_END---

> Finished chain.
✅ Processed query successfully. Found 2 unique properties.
🔍 Verifying RERA status for 2 properties...
✅ RERA check complete: 1/2 registered
✅ RERA verification complete!
INFO:     127.0.0.1:59723 - "POST /query HTTP/1.1" 200 OK
```

Figure 7. Working of Agent, grabbing relevant properties according to the user query

This image is a technical view showing the backend process of the INDREVA agent. It displays a segment of the code and output, illustrating how the system processes a user query—likely about "Godrej Prime" in "Chembur"—to find relevant properties. The output includes an SQL database query for property data and then shows the results compiled from two different sources: 99acres and MagicBricks. Crucially, the final log message confirms the process: "Finished chain... Processing query successfully. Found 2 unique properties... Verifying RERA status for 2 properties... RERA check complete: 1/2 registered RERA verification complete!"

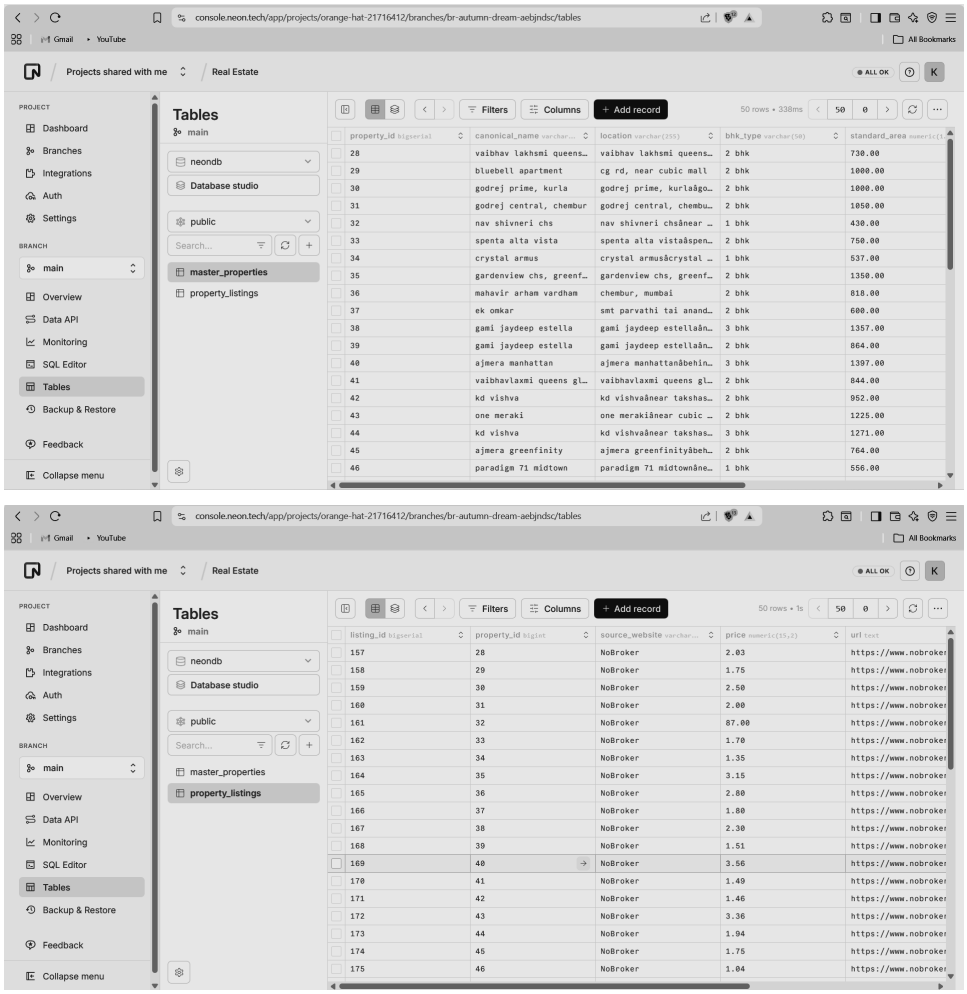

Figure 8. Database hosted using Neon DB (“master_properties” table for storing property details and “property_listings” table for mapping websites to properties)

This image displays a view of the Neon DB database tables used by the INDREVA project. The top panel shows the structure and data within the master_properties table, which is designed to store the core, unique details for each property. The bottom panel shows the property_listings table. This second table serves as a mapping and data aggregation layer, linking specific listings (like source URL and price) from various websites to their corresponding entry in the master_properties table, which is essential for tracking and comparing data from multiple sources.

Chapter 6 Plan Of Action For the Next Semester

6.1 Work done till date

Till date, the following work has been completed for the INDREVA project:

1. Data Collection & Web Scraping:
    a. Successfully developed automated scrapers for multiple real estate websites such as 99acres, NoBroker, and Housing.com.
    b. Extracted key property attributes like BHK type, price, area, location, builder details, amenities, and property type.
    c. All collected data has been standardized and stored in a centralized database.
2. RERA Integration:
    a. Implemented a secondary scraping module to fetch and verify builder and project details from the RERA website, ensuring each property's RERA verification status is checked and tagged accordingly.
3. Database Design:
    a. Designed and created a normalized relational database to store listings and builder information from multiple sources, enabling efficient search and comparison operations.
4. Preliminary Data Cleaning & Normalization:
    a. Performed data cleaning and transformation to unify inconsistent data formats (area units, price notations, locality names, etc.) across different portals.
5. Backend Logic Development:
    a. Implemented server-side modules (using Flask) for fetching property data, managing database operations, and processing search queries.
6. Web Interface Development:
    a. Created a user-facing website where users can search properties using natural language queries (e.g., "2BHK under ₹80 lakh in Andheri").
    b. The results show listings from different portals along with their price ranges, locations, and RERA verification, allowing users to compare properties across sources.

6.2 Plan of action for project II

In the next phase of the INDREVA project, the focus will shift from data aggregation and valuation modeling to intelligent user interaction and legal-risk guidance through a RERA-aware AI Chatbot module. This chatbot will act as a virtual real-estate legal assistant that guides users regarding project delays, builder disputes, and consumer-rights queries based on historical case data. The planned milestones are as follows:

1. Integration of Legal Knowledge Base
   - ➢ Collect and preprocess past RERA judgment PDFs from the official state portal (MahaRERA).
   - ➢ Extract structured information such as project name, developer, possession delay period, judgment outcome, and compensation awarded using NLP and text-mining pipelines.
   - ➢ Store parsed judgments in a searchable vector database.
2. Model Training & Fine-Tuning
   - ➢ Train a domain-specific LLM-based retrieval-augmented chatbot using the curated corpus.
   - ➢ Employ semantic search and embedding-based retrieval to fetch relevant past cases matching the user's query.
   - ➢ Fine-tune responses to provide summary, win-rate, case-duration, and precedent details in natural language.
3. User Query Interface Development
   - ➢ Integrate the chatbot into the existing INDREVA dashboard via a conversational UI.
   - ➢ Allow users to pose queries such as "I invested in XYZ project; the possession date was 2019 but still no handover—what can I do?"
   - ➢ Display relevant judgments, probable outcomes, and legal options interactively.
4. Explainability & Transparency
   - ➢ Implement explainable AI (XAI) components to show why specific judgments were retrieved and how similarity was determined.
   - ➢ Provide confidence scores and case links for user verification.

5. Testing and Evaluation

- ➢ Conduct alpha testing with sample legal scenarios to validate accuracy, retrieval relevance, and conversational clarity.
- ➢ Refine based on feedback from faculty guides and domain experts.

6. Deployment and Integration with Core System

- ➢ Host the chatbot module alongside the valuation and risk engines on a unified cloud infrastructure (AWS / GCP).
- ➢ Enable end-to-end user journey—from property search → risk assessment → legal recourse guidance.

Outcome Expected: By the end of Project II, INDREVA will evolve into a comprehensive, AI-driven property intelligence ecosystem combining market valuation, risk assessment, and legal advisory support to create a transparent and data-empowered real-estate decision-making platform.

Chapter 7 Conclusion

The development of the INDREVA (India Real Estate Valuation and Risk Assessment Framework) successfully concludes by establishing an integrated, AI-powered solution to counter the systemic deficiencies of market fragmentation, opaque pricing, and information asymmetry within the Indian real estate sector. By leveraging advanced Machine Learning, the platform achieves its core functional goals of delivering accurate, Standardized Property Valuations and a Comprehensive Risk Score across legal, developer, and market factors, while operating under constraints like limited access to ground-truth transaction data and API scraping limits. Ultimately, INDREVA is poised to transform the market by providing transparent, justifiable, and actionable intelligence, thereby empowering buyers, mitigating risk for financial institutions, and fostering a trustworthy ecosystem for all stakeholders.

References

[1] T. K. A. Hooi and M. J. Zakariah, "Risk assessment in commercial real estate development: An application of analytic network process," *Int. J. Manag. Rev.*, vol. 4, no. 1, pp. 58–67, 2018.

[2] P.-F. Pai and W.-C. Wang, "Using Machine Learning Models and Actual Transaction Data for Predicting Real Estate Prices," *Appl. Sci.*, vol. 10, no. 17, p. 5832, 2020.

[3] M. F. Hossain, M. Z. Abedin, and M. R. Karim, "Prediction of real estate prices with data mining algorithms," in *Int. Conf. Comput., Commun., Control, Autom. Robot. (IC4AR)*, 22-24 May 2017, pp. 10–15.

[4] S. Mittal and P. Dahiya, "Real Estate Sector in India: And Impact of RERA," *Asian J. Law Econ.*, vol. 12, no. 3, pp. 227–242, 2021.

[5] BlueKraft Digital Foundation, "THE IMPACT OF RERA ON TRANSPARENCY AND ACCOUNTABILITY IN THE INDIAN REAL ESTATE SECTOR," *BlueKraft Digital Foundation Publication*, Nov. 2024. [Online]. Available: https://www.bluekraft.in/wp-content/uploads/2024/11/RERA.pdf.

[6] M. A. A. Juma and Y. D. Juma, "A Decision Support System for Real Estate Investment Using a Multi-Criteria Approach," *Sustainability*, vol. 13, no. 5, p. 2977, 2021.

[7] S. Alghazal, R. Alazmi, and A. Aljamaan, "A Novel System for Real-time House Price Prediction Using Machine Learning and Big Data," in *2022 Int. Conf. Innov. Intell. Inf., Comput., Technol. (3ICT)*, 2022, pp. 280-285.

[8] L. Wang, Y. Chen, and B. Huang, "Predicting Property Prices with Multi-Modal Machine Learning and Geospatial Data Fusion," *Appl. Sci.*, vol. 14, no. 5, p. 2209, 2024.

[9] T. J. O'Connor and S. V. D. Berg, "Explainable AI for Residential Property Valuation," *Appl. Sci.*, vol. 11, no. 15, p. 7001, 2021.

[10] K. K. Sharma and S. K. Singh, "Real Estate Price Prediction using Gradient Boosting and Random Forest," in *2023 4th Int. Conf. Smart Syst. Invent. Technol. (ICSSIT)*, 2023, pp. 286-291.

Appendix

A. List of Figures

Figure no.	Heading	Page no.
1.	System Block Diagram of the Proposed System	21
2.	Modular Architecture of the Proposed System	22
3.	Gantt Chart for Project Scheduling	24
4.	RERA verified property	25
5.	Property with RERA status unknown	25
6.	Instance of a property listed on two different websites with significant difference in price	26
7.	Working of Agent, grabbing relevant properties according to the user query	27
8.	Database hosted using Neon DB (“master_properties” table for storing property details and “property_listings” table for mapping websites to properties)	28

B. List of Tables

Table no.	Heading	Page no.
1.	Tools utilized for the proposed system	19